NAVIGATE

BASIC PROCEDURES

FOR

USER

v.2.0

Doc History

VERSION	DATE	ISSUED BY	VERIFIED BY	ISSUE
2.0	11/03/2026	Gabriele Saiti	Marco Jug	2.0

Introduction

Navigate is a planning station platform for:

- AVCS
- AENP
- Meteo Forecast
- Planning

Usually Navigate is installed into 2 laptops: one is in *'Master mode'* and one in *'Slave mode'.*

Navigate 'Master' controls **AVCS Active Folio** which is the operative area for the Vessel. If Active folio is edited from Navigate Master the Server will receive changes.

The User can switch from Master to Slave and reverse on demand; **important**: there must be there only 1 Navigate Master at time.

The Navigate Stations are not automatically sync, both have **to be updated possibly on a weekly basis** because they are the official viewer for UKHO AENP (Admiralty Electronic Nautical Publications) to be compliant with flag state requisitions.

QUICK REFERENCE

This guide is organized for practical use:
Section 1: Check your initial setup
Section 2: Follow weekly routine
Section 3: Detailed procedures when needed
Section 4: Reference concepts

This document discloses subject matter over which Caim Arl has proprietary rights. Document recipients shall not duplicate, use or disclose in whole or in part, any information contained herein except for or on behalf of Caim Arl to fulfil the purpose for which the document was delivered.

1. Initial Setup Verification

Before starting regular operations, confirm all systems are properly configured. This is a one-time verification unless systems are reinstalled.

☐	Navigate Master station installed and running
☐	Navigate Slave station installed and running
☐	ADP software installed and activated on 2 PCs (preferably Navigate PCs)
☐	AENP activated on Navigate stations
☐	Active Folio created and mirrors current ECDIS chart collection
☐	ECDIS prepared with Active Folio permits (see Section 3.2)

ℹ NOTE

If any checkbox is unchecked, refer to Section 3 (Detailed Procedures) or contact technical support before proceeding with weekly operations.

This document discloses subject matter over which Caim Arl has proprietary rights. Document recipients shall not duplicate, use or disclose in whole or in part, any information contained herein except for or on behalf of Caim Arl to fulfil the purpose for which the document was delivered.

2. Weekly Routine

This section contains the standard weekly operations. Follow these procedures every week to maintain compliance and ensure chart/publication currency.

2.1 Weekly Checklist

☐	TASK	DETAILS
☐	**AVCS: Check for Updates**	See § 2.2
☐	**AVCS: Download missing data**	See § 2.2
☐	**AVCS: Install files into ECDIS**	See § 2.2
☐	**AENP: Check for Updates (both stations)**	See § 2.3
☐	**AENP: Download updates (max 80MB)**	See § 2.3
☐	**ADP: Update software (both PCs)**	See § 2.4

2.2 AVCS Weekly Routine

Step-by-step weekly procedure:

1. If new routes: EDIT Active Folio > ADD FROM ROUTES > select new routes > ADD > SAVE CHANGES
2. **Click CHECK FOR UPDATES (Navigate checks server for new permits and data)**
3. **Click REQUEST UPDATES to download new charts and missing updates**
4. Once download complete > EXPORT from popup > COPY TO for saving AVCS files
5. Install files into ECDIS (permits + base dataset + updates)

> ⚠ **IMPORTANT**
> Permits renew automatically ~5 days before expiration. Weekly CHECK FOR UPDATES ensures you receive them. Downloaded files can be installed on Slave station to avoid duplicate downloads.

This document discloses subject matter over which Caim Arl has proprietary rights. Document recipients shall not duplicate, use or disclose in whole or in part, any information contained herein except for or on behalf of Caim Arl to fulfil the purpose for which the document was delivered.

2.3 AENP Weekly Routine

Perform on BOTH Master and Slave stations:

6. **Click CHECK FOR UPDATES**
7. Access AENP section in dropdown menu (right side)
8. Expand menu from arrow at bottom > select HOLDINGS
9. **Click REQUEST UPDATES (if red button = updates available). Max 80MB per download - if exceeding, select fewer updates.**

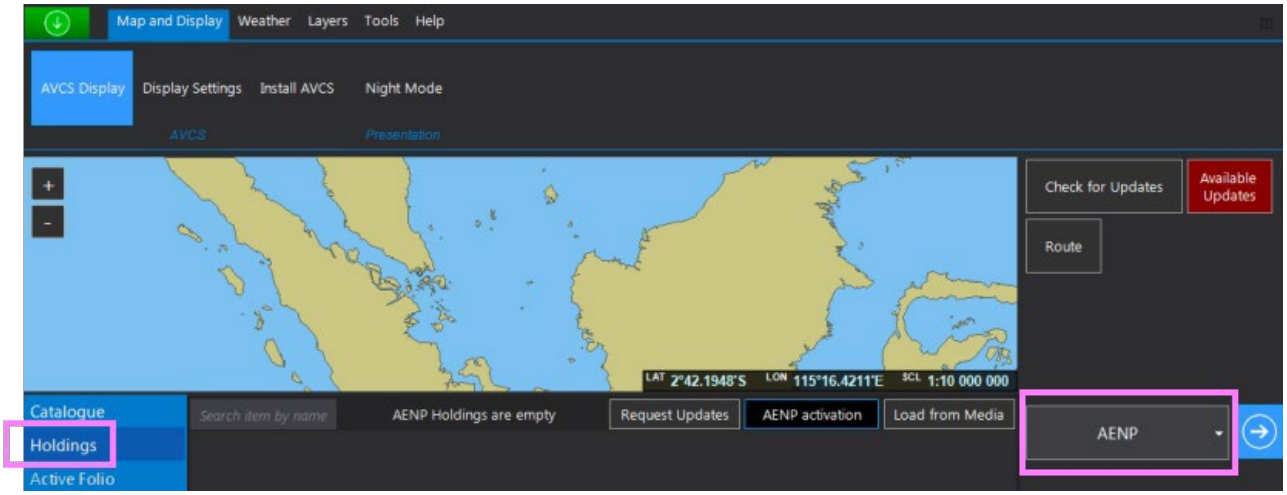

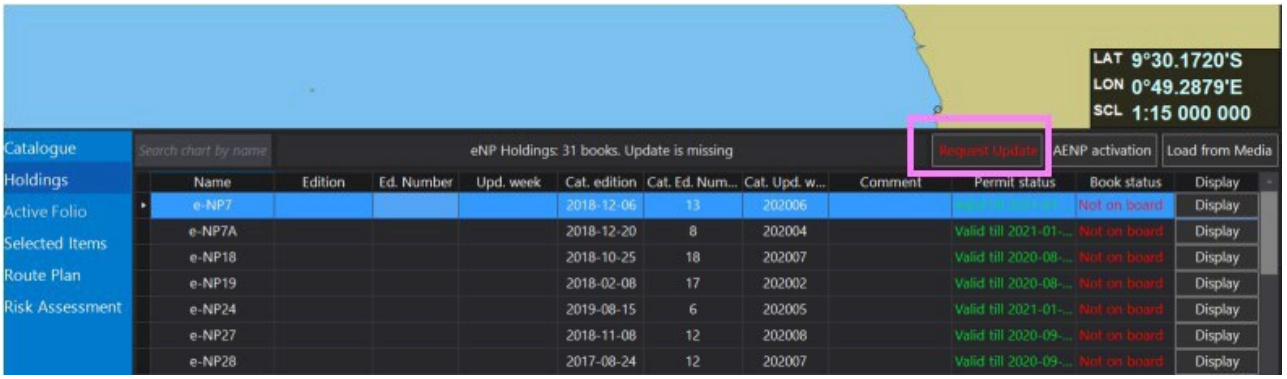

ℹ WHY BOTH STATIONS?

Navigate stations are the official AENP viewer for flag state compliance. Both Master and Slave must be updated weekly as they are NOT automatically synced.

This document discloses subject matter over which Caim Arl has proprietary rights. Document recipients shall not duplicate, use or disclose in whole or in part, any information contained herein except for or on behalf of Caim Arl to fulfil the purpose for which the document was delivered.

2.4 ADP Weekly Routine

Perform on BOTH PCs with ADP installed:

10. Open ADP - Data Updating Wizard and follow guided procedure to get updates via Internet

11. If you have low connection, you can update ADP via email:

Updating via email

1. Double-click the ADP Updating Wizard desktop icon to open the Data Updating Wizard.

2. Click **Obtain updates direct from the ADMIRALTY web service.**

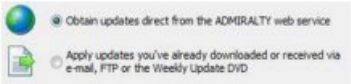

3. Click **Next.**

4. Click **Send email** to request an update.

5. Click **Next.**

The Wizard will show the required updates. **You can deselect unrequired updates by clicking on them.**

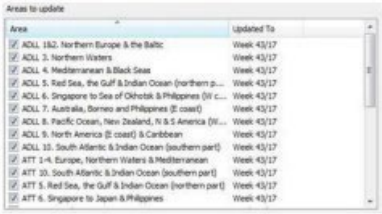

6. When you have made your selection, click **Next.**

If the PC has access to email, you can generate an email automatically through the application. Alternatively, you can save a response file for use on another PC with email capability.

For PCs without email

1. Click **Store the request in a file to send later or from another PC.**
2. Click **Next.**
3. Click the **Browse** button and navigate to the location where you want to save the request file.
4. When you have selected a location, click **Finish** to close the browser window.
5. Click **Next** to create a request file.
6. Copy the request file to the PC with email access and send it to: ADPMailGateway@UKHO.gov.uk.

You do not need to enter a subject.

For PCs with email

1. Click **Send the email now.**
2. Click **Finish** to create an email.
3. Send the email with the attached request file to: ADPMailGateway@UKHO.gov.uk.

You do not need to enter a subject.

7. Once you have received a response email, save the attached update file to the computer where ADP is installed.

This document discloses subject matter over which Caim Arl has proprietary rights. Document recipients shall not duplicate, use or disclose in whole or in part, any information contained herein except for or on behalf of Caim Arl to fulfil the purpose for which the document was delivered.

3. Detailed Procedures

This section provides step-by-step instructions for specific operations. Refer to these procedures when needed - not required for weekly routine unless specified.

PAYS Charts vs Non-PAYS Charts:

CHART TYPE	APPROVAL	PROCESS
PAYS Charts	None required	Add to Active Folio → Download directly
Non-PAYS Charts* (ADP, AENP)	**Approval required**	Add to Active Folio → Submit order → Wait approval → Download

*** The following areas are not covered by PAYS service:**

- India,
- Singapore,
- Malacca,
- Myanmar,
- Hong Kong,
- Malacca & Singapore Strait.

This document discloses subject matter over which Caim Arl has proprietary rights. Document recipients shall not duplicate, use or disclose in whole or in part, any information contained herein except for or on behalf of Caim Arl to fulfil the purpose for which the document was delivered.

3.1 Building Your Active Folio

Active Folio = set of ENCs installed in ECDIS for your navigation routes.

CRITICAL: Active Folio must mirror ECDIS chart collection.

1. Export routes from ECDIS (RTZ format recommended)
2. Import routes into Navigate (multiple selection allowed)
   - *TIP: Import only next trade routes, avoid old/spot voyages*
3. Access AVCS working area, ensure catalog is up to date
4. Select ACTIVE FOLIO
5. **EDIT > ADD FROM ROUTES > tick routes > ADD**
6. STOP EDIT > SAVE CHANGES (client sends changes to server)
7. REQUEST UPDATES to receive permits, base dataset, updates
8. EXPORT from popup > COPY TO save data for ECDIS installation

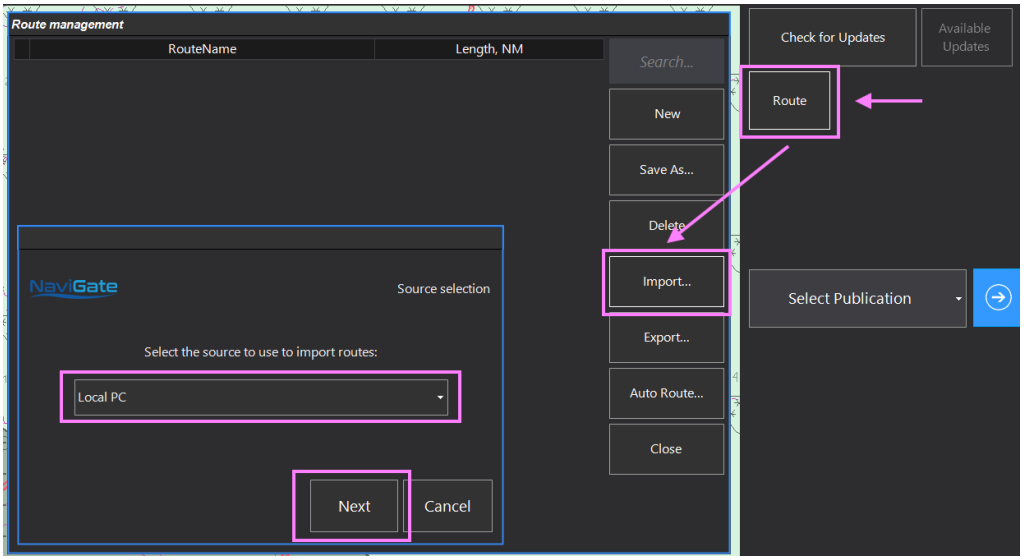

Note: all the selected scales of charts will be added as per activated scale filters below:

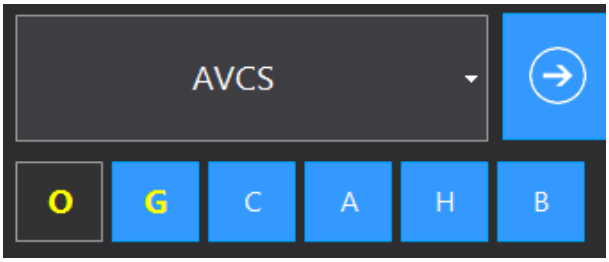

- **O**verview
- **G**eneral
- **C**oastal
- **A**pproach
- **H**arbour
- **B**erthing

This document discloses subject matter over which Caim Arl has proprietary rights. Document recipients shall not duplicate, use or disclose in whole or in part, any information contained herein except for or on behalf of Caim Arl to fulfil the purpose for which the document was delivered.

3.2 Preparing ECDIS for Active Folio

Ensure you are in safe conditions, vessel is not under navigation, all AVCS data is already downloaded and ready to be installed. Perform the process for only one ECDIS at a time.

9. Remove all AVCS permits from ECDIS
10. Install Active Folio permits from Navigate
11. Uninstall unnecessary charts
12. Install missing base dataset and updates
13. Verify AVCS chart collection mirrors between ECDIS and Navigate

3.3 Pre-Voyage Chart Verification

Before each voyage:

14. Load your next route in Navigate and go to ACTIVE FOLIO
15. **Use ADD FROM ROUTES to verify all necessary charts are included into Active Folio**
16. This automatically requests missing permits/data (REQUEST UPDATES)

3.4 Handling Missing Charts

Best Practice:

A. **Always operate from ACTIVE FOLIO**
B. **Add charts using ADD FROM ROUTES**
C. **Refine your selection adding charts using SELECT tool for single selection**

Special Regions (India, Malacca, Singapore, Hong Kong, …):

D. **Require ad-hoc order sent to server:**
   - **Go to SELECTED ITEMS and use ADD FROM ROUTES tool**
   - **Refine your selection adding charts using SELECT tool for single selection**
   - **Use BASKET button to send your order**
E. **Send a reminder via email to digital@caim.it to ask for approval**
F. **Use ADD TO AF button to add special regions to Active Folio**
G. **Once confirmed by Caim do CHECK FOR UPDATES**

Charts in ECDIS but Not in Navigate Catalogue:

- May have been cancelled and are not orderable
- If catalog is current, can uninstall from ECDIS
- If route passes through area: load on Active Folio, verify available chart selection

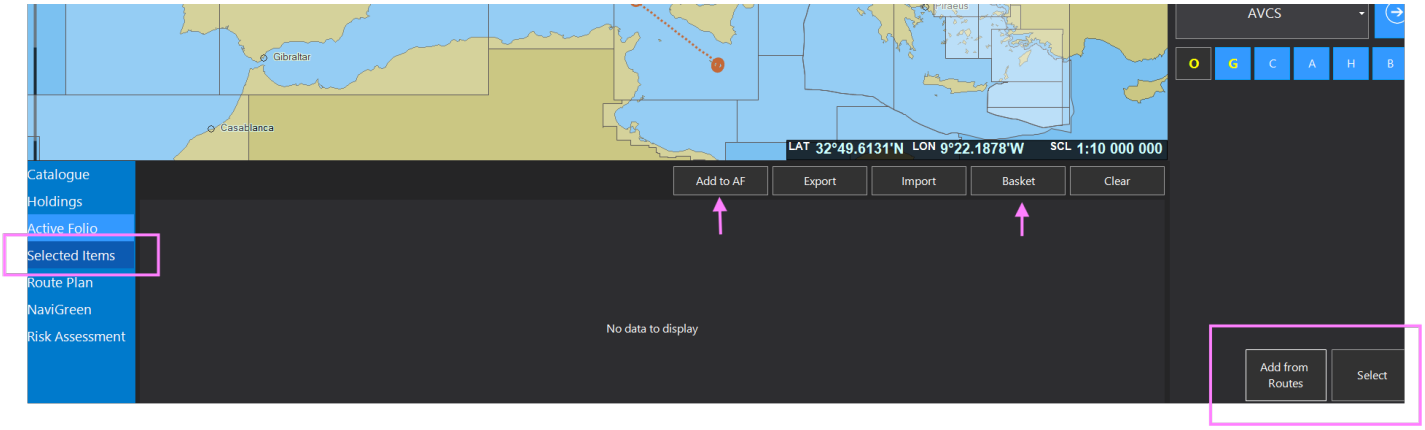

This document discloses subject matter over which Caim Arl has proprietary rights. Document recipients shall not duplicate, use or disclose in whole or in part, any information contained herein except for or on behalf of Caim Arl to fulfil the purpose for which the document was delivered.

3.5 Pre-Voyage AENP & ADP Verification

Before each voyage:

17. For AENP/ADP, select AENP or ADRS (or ADLL or TotalTide) from dropdown menu on the right
18. Load your next route in Navigate and go to SELECTED ITEMS
19. **Use ADD FROM ROUTES to verify the relevant holding is subscribed for your route**
20. Use BASKET button to send your order
21. Send a reminder via email to digital@caim.it to ask for approval
22. Once confirmed by Caim do CHECK FOR UPDATES

3.5.1 Renew/Order ADP & AENP Holdings

- Renewal procedure is the same as the ordering procedure, as per para 3.5.
- For specific AENP publications (e.g. **NP 5011, NP 735**): select from **Catalogue** in Navigate.

3.6 Switching Between Online and Offline Mode

Use Offline Mode when internet connectivity is unavailable or not performing well.

To Switch to Offline Mode:

A. Click arrow in upper left corner (green or red)
B. Click TASK
C. Click ONLINE to switch to OFFLINE mode

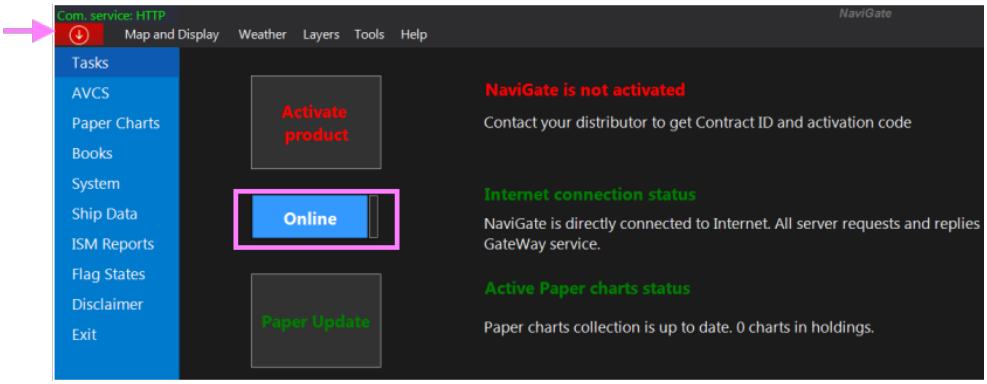

To Switch to Online Mode:

D. Click arrow in upper left corner
E. Click TASK
F. Click OFFLINE to switch to ONLINE mode

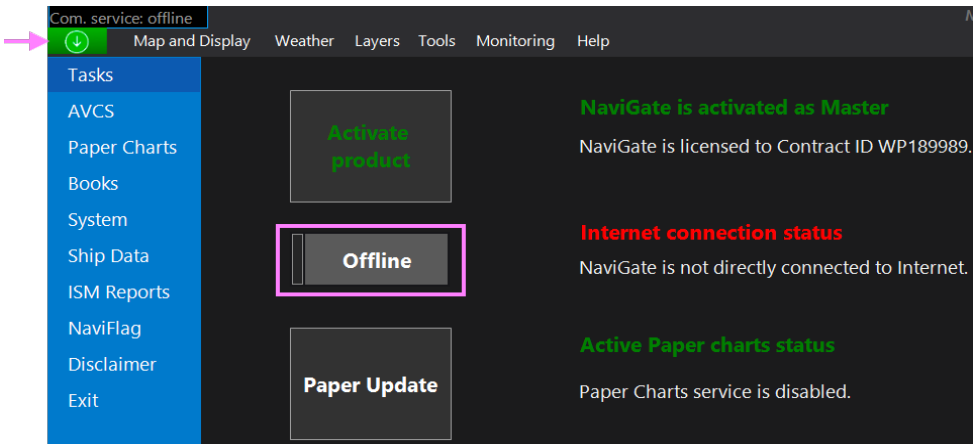

This document discloses subject matter over which Caim Arl has proprietary rights. Document recipients shall not duplicate, use or disclose in whole or in part, any information contained herein except for or on behalf of Caim Arl to fulfil the purpose for which the document was delivered.

3.7 Working in Offline Mode (Email Process)

In offline mode, all communications are via email:

1. Navigate creates request file when you request updates

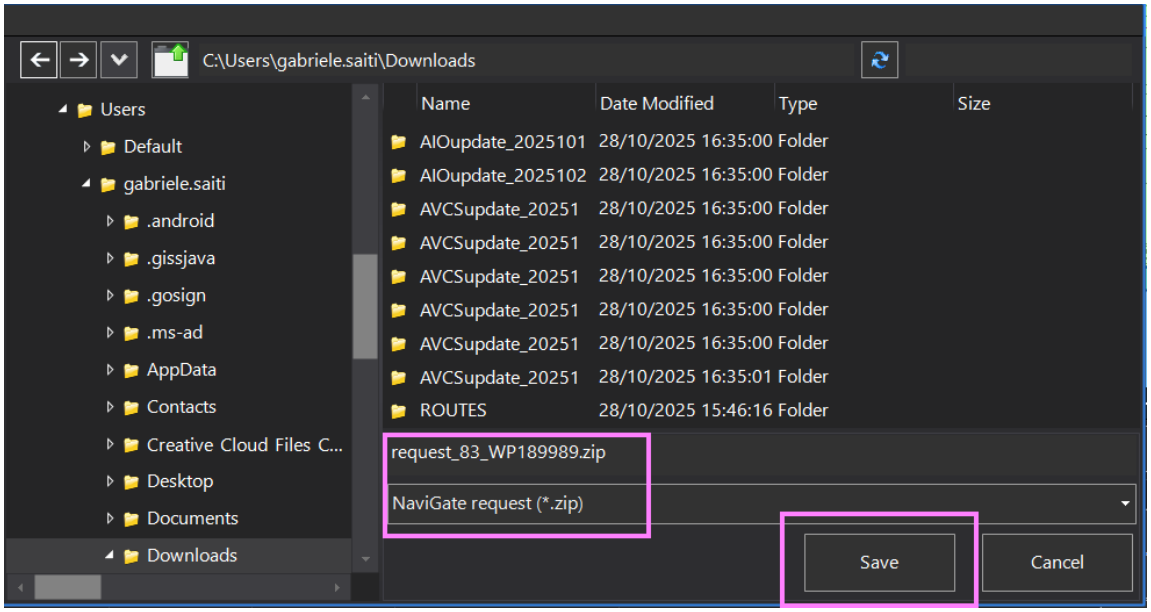

2. Save request file when prompted
3. **Send email with:**
   - TO: updates@maritimegate.net
   - SUBJECT: Naviserver
   - ATTACHMENT: zip file from Navigate

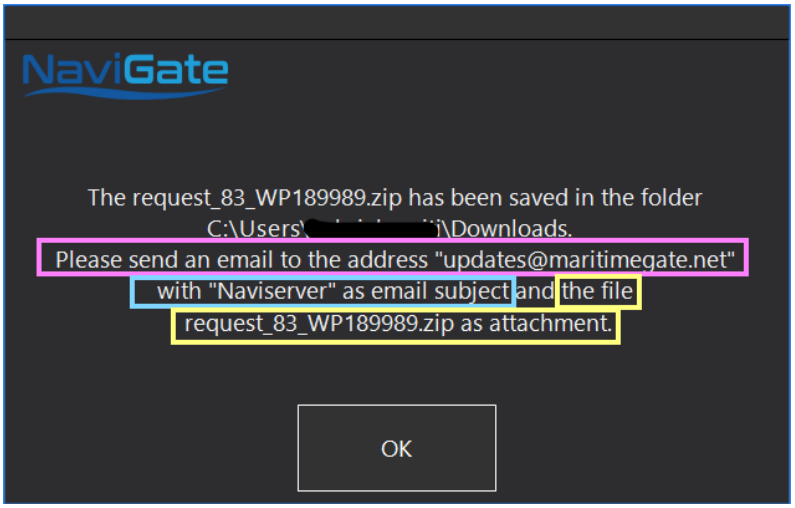

This document discloses subject matter over which Caim Arl has proprietary rights. Document recipients shall not duplicate, use or disclose in whole or in part, any information contained herein except for or on behalf of Caim Arl to fulfil the purpose for which the document was delivered.

4. Server sends reply with multiple 2MB email attachments (NGTE format)
5. Save all NGTE attachments to same folder
6. **Import in Navigate:**
   - Arrow upper left > TASK > IMPORT UPDATES
   - Select first NGTE file > SELECT
   - Blue popup confirms successful import

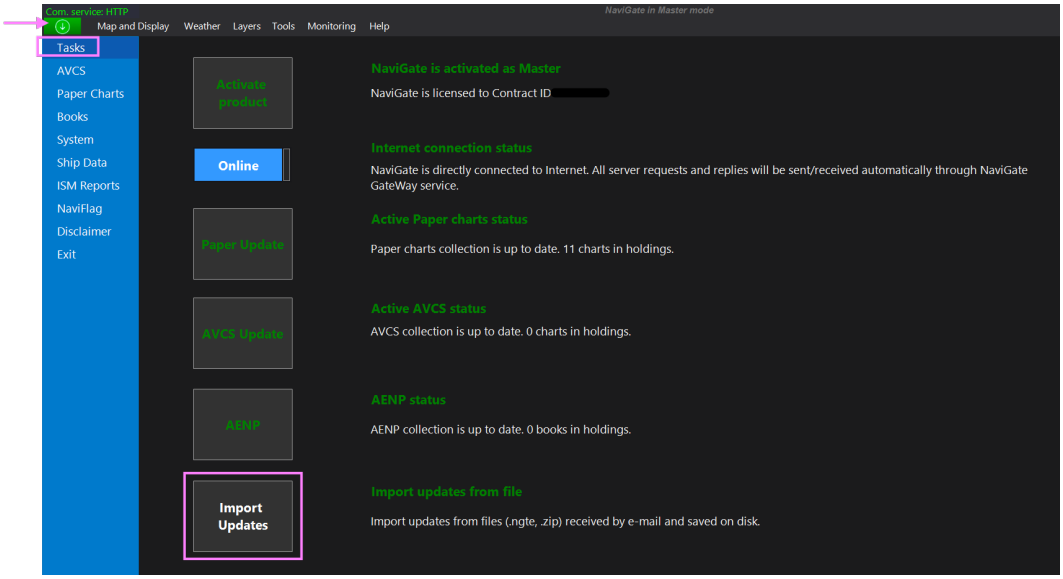

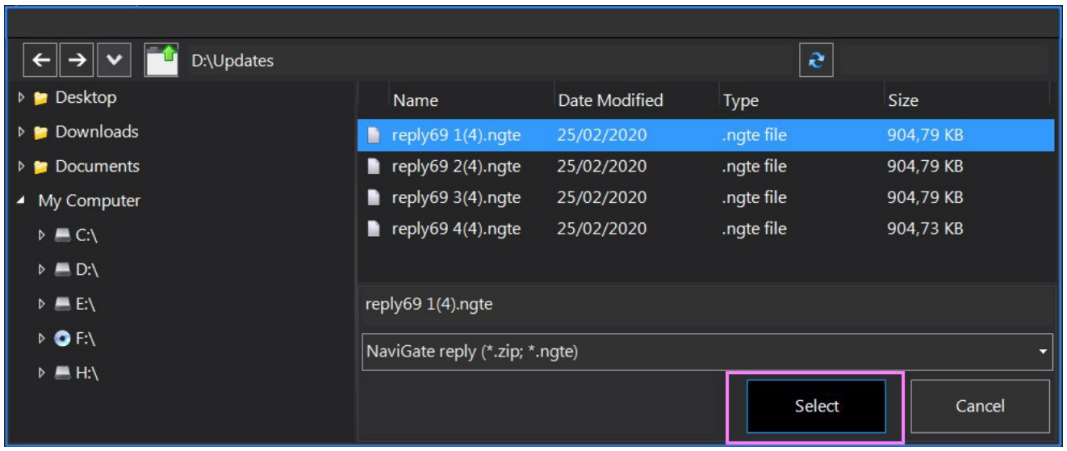

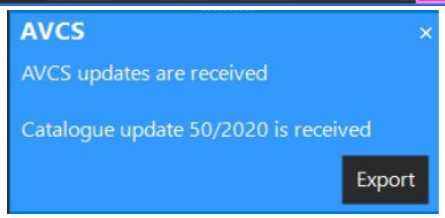

This document discloses subject matter over which Caim Arl has proprietary rights. Document recipients shall not duplicate, use or disclose in whole or in part, any information contained herein except for or on behalf of Caim Arl to fulfil the purpose for which the document was delivered.

3.1 Meteo Forecast Service

Online Mode

A. Click on WEATHER at the top
B. Select CUSTOM and draw the area of interest for the route to best filter bandwidth usage
C. Click OK and wait for the data download (message "NEW FORECAST ARE RECEIVED" in the lower right
D. corner)
E. Go to the WEATHER section where you can view the data by selecting the type of data, whether to
F. interpolate, etc...
G. For ROLL RISK, access the MONITORING section (always at the top, GPS must be connected or wind
H. data can be input manually or by clicking on the SELECTED POINT map)

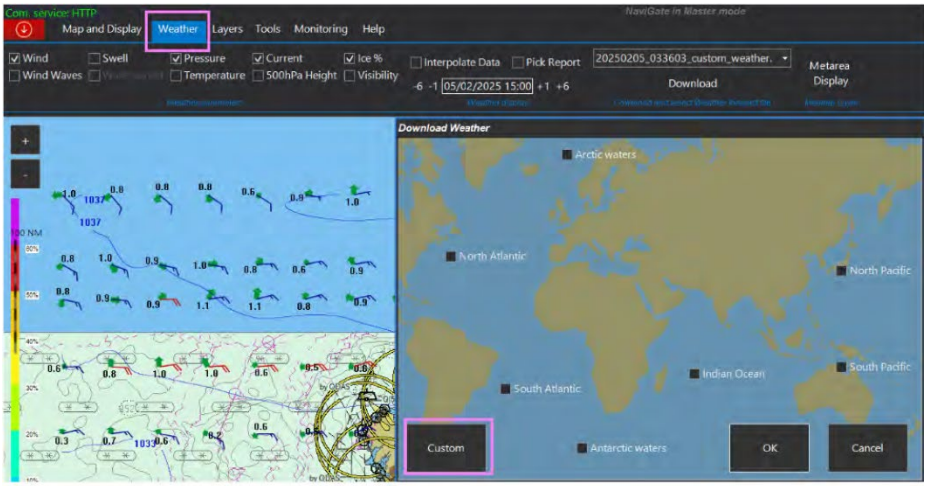

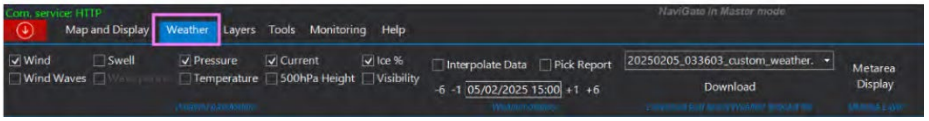

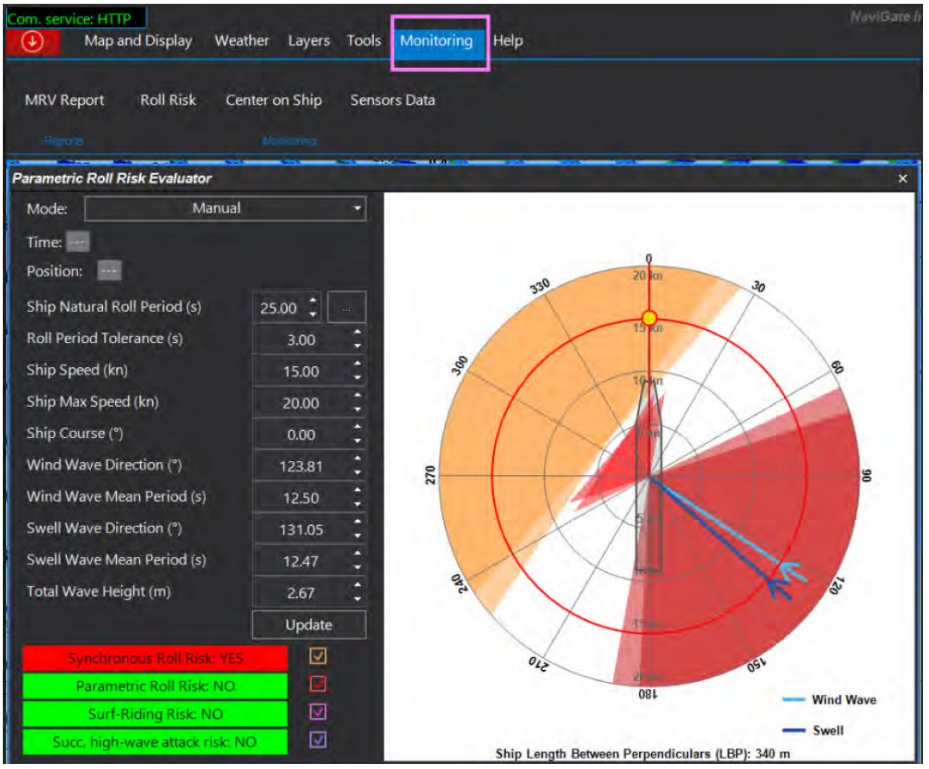

This document discloses subject matter over which Caim Arl has proprietary rights. Document recipients shall not duplicate, use or disclose in whole or in part, any information contained herein except for or on behalf of Caim Arl to fulfil the purpose for which the document was delivered.

Offline Mode

In the absence of internet connectivity, you can switch to offline mode:

A. Click on the arrow in the upper left corner (whether it's green or red)
B. Click on TASK
C. Click on ONLINE to switch to OFFLINE mode
D. Click WEATHER on the upper frame and then DOWNLOAD
E. Select CUSTOM and draw the area of interest for the route to best filter bandwidth usage
F. A popup window will ask you where to save the request; save it in a folder that is convenient for you (the file will need to be sent via email)
G. Another popup will explain how to send the request (example below):

Prepare an email as follows:

- SEND TO: updates@maritimegate.net
- EMAIL SUBJECT: Naviserver
- ATTACHMENT: the zip file downloaded from Navigate

A. Naviserver will automatically send attachments via email in more secure encrypted NGTE format;
B. Save all NGTE files in the same folder and reconstruct the archive using Navigate
   - Select the arrow in the upper left corner
   - Click TASK > IMPORT UPDATES and select the first NGTE file
   - Click SELECT
   - A blue POPUP window in the lower right corner will indicate the successful outcome of the operation "NEW FORECAST ARE RECEIVED"

This document discloses subject matter over which Caim Arl has proprietary rights. Document recipients shall not duplicate, use or disclose in whole or in part, any information contained herein except for or on behalf of Caim Arl to fulfil the purpose for which the document was delivered.

4. REFERENCE - BASIC CONCEPTS

This section provides background information and key concepts. Review this material during initial training or when clarification is needed.

4.1 What is Navigate?

Navigate is a planning station platform that manages:

- AVCS (Admiralty Vector Chart Service)
- AENP (Admiralty Electronic Nautical Publications)
- Meteorological forecasts
- Route planning

4.2 Master vs Slave Mode

ASPECT	MASTER MODE	SLAVE MODE
Function	Controls AVCS Active Folio	Backup station
Edits	Edits sync to server	Cannot edit Active Folio
Quantity	**ONE at a time only**	Multiple allowed
Switching	Can switch to Slave	Can switch to Master

4.3 Understanding Active Folio

Active Folio is the operative working set of ENCs for your vessel. Think of it as your 'working chart collection'.

Key Points:

- **Must mirror ECDIS chart collection exactly**
- Optimizes downloads by requesting only needed charts
- Updated by adding charts from routes (ADD FROM ROUTES)
- Managed only from Master station

4.4 Automatic AVCS Permit Renewal

Permits renew automatically without manual intervention:

- Server renews ~5 days before expiration
- Received automatically in Navigate
- **Weekly CHECK FOR UPDATES ensures receipt**

Manual export (if needed):

`Navigate → Arrow top left → AVCS \ Export Permits`

This document discloses subject matter over which Caim Arl has proprietary rights. Document recipients shall not duplicate, use or disclose in whole or in part, any information contained herein except for or on behalf of Caim Arl to fulfil the purpose for which the document was delivered.

4.5 Stations Synchronization

⚠ CRITICAL

Navigate stations are NOT automatically synchronized. Both Master and Slave must be updated weekly. This is required for AENP compliance with flag state regulations.

4.6 AVCS, AENP and ADP — What Are They?

AVCS (Admiralty Vector Chart Service) is the official digital chart service issued by the UKHO. It provides ENCs (Electronic Navigational Charts) in the form of permits, base datasets and weekly updates. Charts are licensed per vessel and per trade area. Permits must be installed on ECDIS and are renewed automatically ~5 days before expiry.
AENP (Admiralty Electronic Nautical Publications) are digital versions of official UKHO publications (e.g. NP 5011 Symbols and Abbreviations, NP 735 ALRS). Both Navigate stations are the official AENP viewers for flag state compliance purposes and must be updated weekly.
ADP (Admiralty Digital Publications) is the UKHO software and service that provides digital nautical publications (e.g. List of Lights, Tide Tables, ALRS). ADP is installed on both Navigate PCs and updated weekly via the Data Updating Wizard, online or by email to ADPMailGateway@UKHO.gov.uk.

4.7 ENC Chart Scales

ENCs are organised by usage band. Navigate adds charts for all activated scale bands when building the Active Folio. The six standard bands are: **O**verview, **G**eneral, **C**oastal, **A**pproach, **H**arbour, **B**erthing. Filters for each band are shown as buttons (O G C A H B) in the Navigate AVCS panel. Deactivating a band excludes those charts from the Active Folio download.

4.8 Special Regions

Certain geographic areas (including **India, Malacca Strait, Singapore and Hong Kong**) use national or regional chart services that require a separate ad-hoc order — they cannot be ordered through the standard AVCS REQUEST UPDATES flow. For these areas, use the BASKET button in SELECTED ITEMS and send a reminder email to **digital@caim.it** to request approval. Once confirmed by Caim, run CHECK FOR UPDATES to receive the charts. See also **§ 3.4**.

This document discloses subject matter over which Caim Arl has proprietary rights. Document recipients shall not duplicate, use or disclose in whole or in part, any information contained herein except for or on behalf of Caim Arl to fulfil the purpose for which the document was delivered.

NAVIGATE · CAIM SEA · § 3.7

Offline Mode — How It Works

AVCS · AENP · ADP

Key concept: when internet is unavailable, Navigate communicates with the server via email.

Switch to Offline first: Arrow (top-left) → TASK → click ONLINE to toggle OFFLINE. Arrow turns **red** offline, **green** online. Common workflow applies to **AVCS, AENP and Meteo** via Navigate. **ADP** uses Navigate for ordering holdings (§ 3.5) and the Wizard for weekly content updates.

COMMON WORKFLOW — AVCS · AENP · METEO (VIA NAVIGATE)

① **Request in Navigate**
CHECK FOR UPDATES or REQUEST UPDATES. Navigate prompts to save a request file.

→

② **Save .zip file**
Save the .zip to a convenient folder. Navigate shows the exact filename.

→

③ **Send Email**
TO: updates@maritimegate.net
SUBJ: Naviserver
ATT: .zip file

→

④ **Receive .ngte files**
Server replies with multiple ~2 MB .ngte attachments. Save **ALL** to the same folder.

→

⑤ **Import in Navigate**
Arrow → TASK → IMPORT UPDATES → select first .ngte → SELECT. Blue popup = success.

SERVICE-SPECIFIC DETAILS

AVCS Charts & Permits

- Follow the **common workflow steps 1–5** using the Navigate AVCS panel.
- After import: EXPORT → COPY TO to save for ECDIS installation (permits + base dataset + updates).
- Permits renew automatically **~5 days** before expiry — no manual action needed.
- **Special regions** (India, Malacca, Singapore, HK): use BASKET + email **digital@caim.it** for approval → CHECK FOR UPDATES.

AENP Electronic Publications

- Follow the **common workflow steps 1–5**. Perform on **both Master and Slave** independently.
- To order/renew specific titles (e.g. NP 5011, NP 735): Navigate → AENP → Holdings → **Catalogue** → select → Request Updates.
- Max **80 MB** per download. If exceeded, split into multiple batches.
- Both stations are **official AENP viewers** for flag state compliance — weekly update mandatory on each.

ADP Digital Publications

ORDER / RENEW HOLDINGS — via Navigate (§ 3.5)

- Follow the **common workflow steps 1–5**. Select ADRS / ADLL / TotalTide from dropdown.
- SELECTED ITEMS → ADD FROM ROUTES → BASKET → email **digital@caim.it** → once confirmed: CHECK FOR UPDATES.

WEEKLY CONTENT UPDATES — ADP Wizard

- Open **ADP Data Updating Wizard** → "Send e-mail to request update" → save request file.
- **TO:** ADPMailGateway@UKHO.gov.uk — no subject. Apply response via Wizard. Repeat on **both PCs**.

KEY REMINDERS

⚠ **Import ALL .ngte attachments.** The server may split one update across multiple files — importing only the first results in an incomplete update.

🔄 **Stations are NOT auto-synced.** After importing on Master, repeat the full workflow on the Slave station separately.

📁 **Save all .ngte to the same folder** before importing. Navigate needs them together to reconstruct the full update package.

📶 **Switching back online:** Arrow → TASK → click OFFLINE to toggle back. Verify arrow turns green before proceeding.

This document discloses subject matter over which Caim Arl has proprietary rights. Document recipients shall not duplicate, use or disclose in whole or in part, any information contained herein except for or on behalf of Caim Arl to fulfil the purpose for which the document was delivered.